Overview

Jan 1, 2020 - Jan 15, 2023

Total Rides	Avg Stn Imbalance	Casual	Leisure	Commuters
32,342,086	0.08	15.0M	9.5M	7.9M

Ride Trends

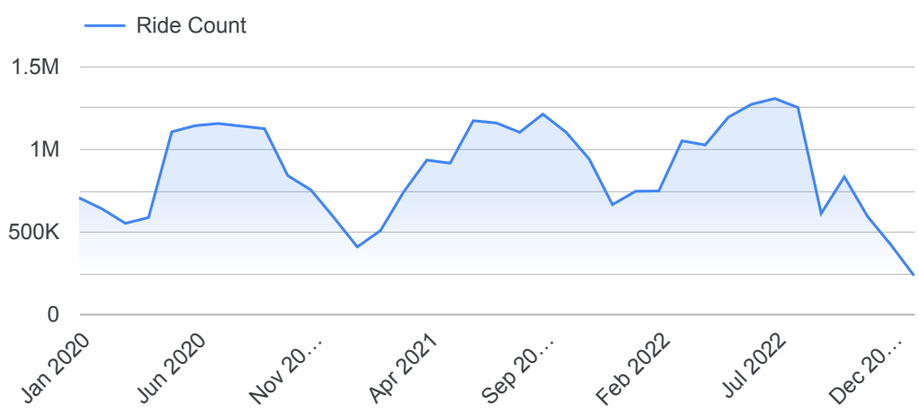

Rider Segments

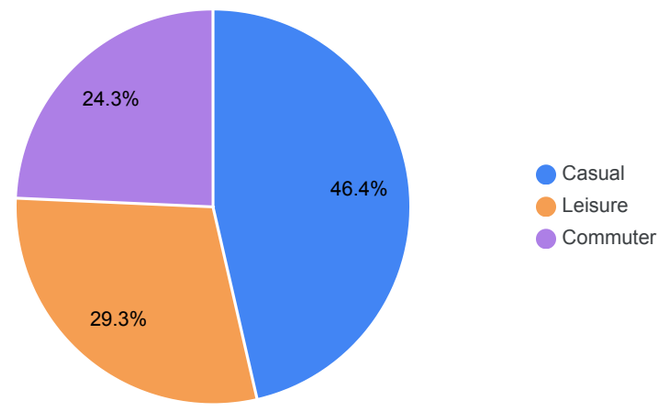

** Segments approximated from ride behaviour (weekend flag + peak hour flag). K-Means cluster labels from EDA notebook (30K sample, 2022).*

Rides Per Hour

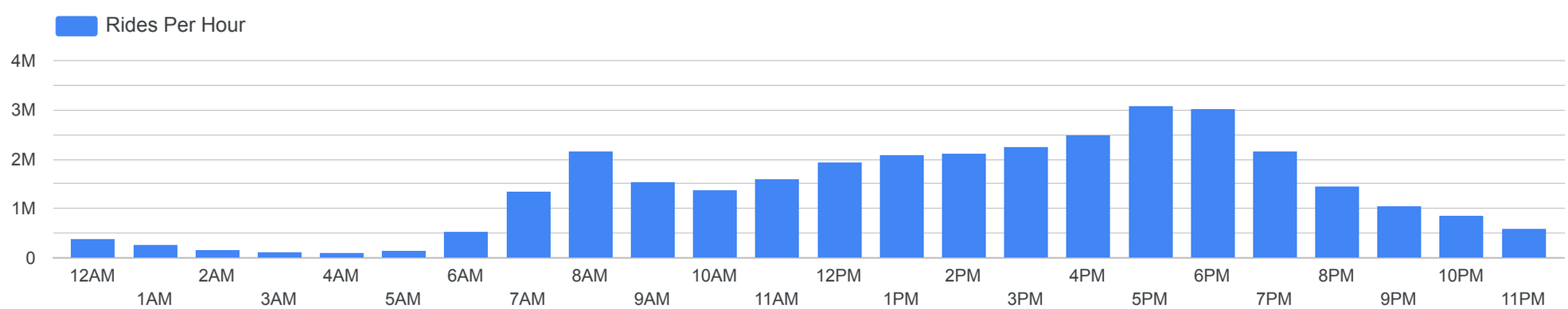

Station Mapping

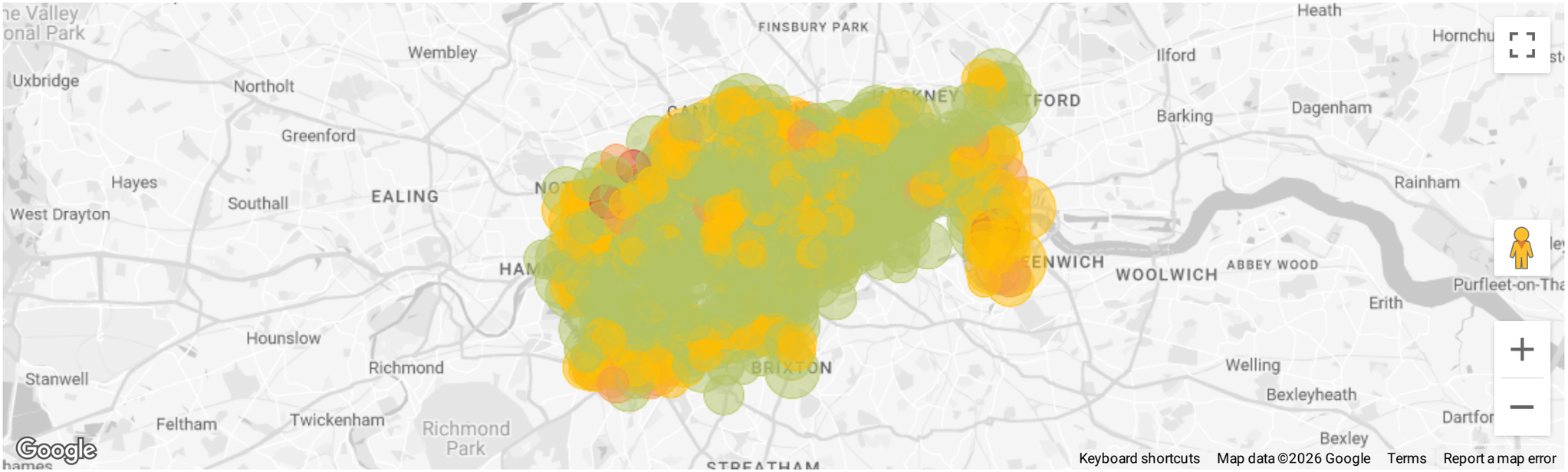

nb_docks
10 • 64

rebalancing_priority
MEDIUM LOW HIGH CRITICAL

Top 20 Problem Zones (based on imbalance score)

	Station	Zone	Location	Rebalancing Priority	7-day Avg…	Docks
1.	Ladbroke Grove Central, Ladbroke Grove	Kensington & Chelsea	51.511624,-0.205921	CRITICAL	0.30	21
2.	Westbourne Green, Westbourne	Other	51.522168,-0.1928141999999…	CRITICAL	0.29	21
3.	South Quay East, Canary Wharf	East End & Canary Wharf	51.50196,-0.016251	CRITICAL	0.28	36
4.	Cloudesley Road, Angel	Camden & Islington	51.53440868,-0.109025404	HIGH	0.25	37
5.	Santos Road, Wandsworth	Other	51.45705988,-0.200806304	HIGH	0.24	30
6.	Colet Gardens, Hammersmith	Kensington & Chelsea	51.491093,-0.216493	HIGH	0.24	30
7.	Waterloo Station 2, Waterloo	Waterloo & Southbank	51.50391973,-0.11342629	HIGH	0.23	48

Rebalance Management

Jan 1, 2020 - Jan 15, 2023

The Rebalance Management dashboard identifies stations with critical imbalance scores above 0.25, indicating a significant mismatch between bike departures and arrivals. Operations managers can assess which stations need immediate crew intervention, either delivering or collecting bikes, and estimate workforce deployment based on 15 stations per crew run, ensuring dock availability and maintaining customer satisfaction across the network.

Needs Intervention	Average Imbalance Score	Crew Runs Needed
1,557	0.51	104

Draining (Add Bikes)

	Station	Imbalance Score	Net Flow
1.	Hop Exchange, The Borough	0.43	87.41
2.	New North Road 1, Hoxton	0.35	7.86
3.	Ladbroke Grove Central, Ladbroke …	0.33	6.66
4.	Crimscott Street, Bermondsey	0.31	4.31
5.	Cloudesley Road, Angel	0.29	15.06
6.	South Quay East, Canary Wharf	0.28	5.51
7.	Santos Road, Wandsworth	0.28	4.63
8.	Paddington Green Police Station, P…	0.27	6.57
9.	Colet Gardens, Hammersmith	0.27	3.4
10.	Greenberry Street, St.John's Wood	0.26	7.12
11.	Lansdowne Walk, Ladbroke Grove	0.26	5.66
12.	Stockwell Roundabout, Stockwell	0.25	4.12
13.	Lord's, St. John's Wood	0.25	6.68
14	Spanish Road, Clapham Junction	0.24	5.07

Filling (Remove Bikes)

	Station	Imbalance Score	Net Flow
1.	The Blue, Bermondsey	0.21	-2.73
2.	Colet Gardens, Hammersmith	0.2	-2.48
3.	New Spring Gardens Walk, Vau…	0.2	-10.04
4.	South Quay East, Canary Wharf	0.19	-3.79
5.	Santos Road, Wandsworth	0.19	-4.16
6.	South Bermondsey Station, Ber…	0.18	-3.75
7.	Oxford Road, Putney	0.17	-4.94
8.	Esmond Street, Putney	0.17	-4.46
9.	Crimscott Street, Bermondsey	0.17	-2.56
10.	Morie Street, Wandsworth	0.17	-5.07
11.	Grafton Street, Mayfair	0.16	-8.95
12.	Malmesbury Road, Bow	0.16	-2.41
13.	Westfield Library Corner, Sheph…	0.16	-5.58
14	Sirdar Road, Avondale	0.16	-2.66